SKYDROID C12 · DUAL LIGHT GIMBAL SYSTEM

THERMAL DETECTION MISSION REPORT

Automated Hotspot Detection · AI Classification · Auto-Capture

This document provides a comprehensive intelligence analysis of thermal signatures detected during the automated flight mission. Each event was successfully isolated, geo-tagged, and classified by the onboard AI to ensure rapid situational awareness.

6	0	6	0
TOTAL CAPTURES	HUMANS	ANIMALS	VEHICLES

MISSION ID	MSN-20260424-1022
START TIME	24 Apr 2026 10:22:15 UTC
END TIME	24 Apr 2026 10:22:35 UTC

THERMAL	VISIBLE	GIMBAL	STREAM
384×288 · 8–14µm LWIR	5MP 2K · 100° FOV	3-axis · ±90° yaw	RTSP dual channel

Mission Summary

Target Class	Count	Avg Confidence	Priority
Human	0	0%	HIGH
Animal	6	70%	MEDIUM
Vehicle	0	0%	MEDIUM

Area Coverage

Parameter	Value	Parameter	Value
Min Latitude	0.000000°	Max Latitude	0.000000°
Min Longitude	0.000000°	Max Longitude	0.000000°
Min Altitude	0.0 m	Max Altitude	0.0 m
Avg Altitude	0.0 m	Total Events	6

GPS Detection Map

Confidence Analysis



Dashed line marks 50% confidence threshold. Bars coloured by target class: green=human, amber=animal, blue=vehicle.

Capture Log

Detection #01 — ANIMAL — 24 Apr 2026 10:22:15 UTC

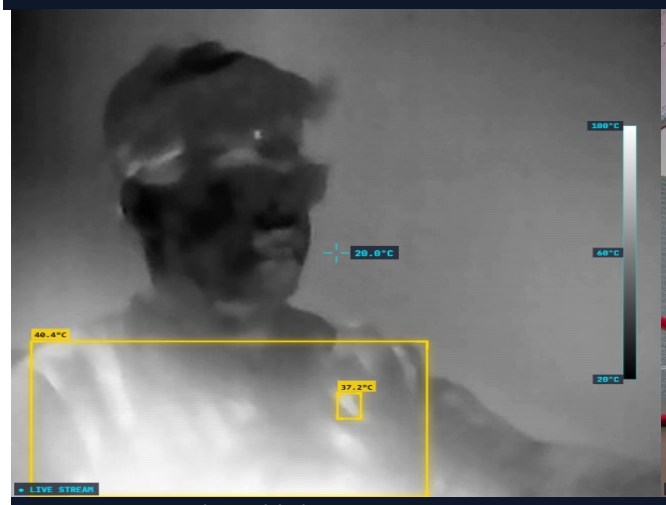

Thermal (IR) 384×288 8–14µm

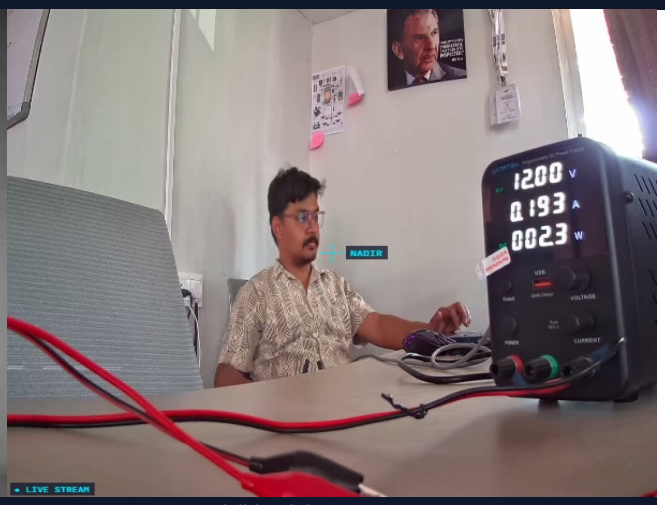

Visible Light 2K 100° FOV

DETECTION DETAILS		GPS & FLIGHT DATA	
Class	ANIMAL	Latitude	N/A
Confidence	**70%**	Longitude	N/A
Bounding Box	x=120 y=80 w=50 h=90 px	Altitude (AGL)	0.0 m
Blob Area	4,500 px²	Heading	0.0°
Eccentricity	0.5	Satellites	0
Peak Intensity	0	HDOP	1
Mean Intensity	0	Roll / Pitch	0.0° / 0.0°
Palette	Ironbow	Yaw	0.0°

Detection #02 — ANIMAL — 24 Apr 2026 10:22:34 UTC

Thermal (IR) 384×288 8–14µm

Visible Light 2K 100° FOV

DETECTION DETAILS		GPS & FLIGHT DATA	
Class	ANIMAL	Latitude	N/A
Confidence	70%	Longitude	N/A
Bounding Box	x=120 y=80 w=50 h=90 px	Altitude (AGL)	0.0 m
Blob Area	4,500 px²	Heading	0.0°
Eccentricity	0.5	Satellites	0
Peak Intensity	0	HDOP	1
Mean Intensity	0	Roll / Pitch	0.0° / 0.0°
Palette	Ironbow	Yaw	0.0°

Detection #03 ANIMAL 24 Apr 2026 10:22:34 UTC

Thermal (IR) 384×288 8–14µm



Visible Light 2K 100° FOV

DETECTION DETAILS		GPS & FLIGHT DATA	
Class	ANIMAL	Latitude	N/A
Confidence	70%	Longitude	N/A
Bounding Box	x=120 y=80 w=50 h=90 px	Altitude (AGL)	0.0 m
Blob Area	4,500 px²	Heading	0.0°
Eccentricity	0.5	Satellites	0
Peak Intensity	0	HDOP	1
Mean Intensity	0	Roll / Pitch	0.0° / 0.0°
Palette	Ironbow	Yaw	0.0°

Detection #04 ANIMAL 24 Apr 2026 10:22:35 UTC

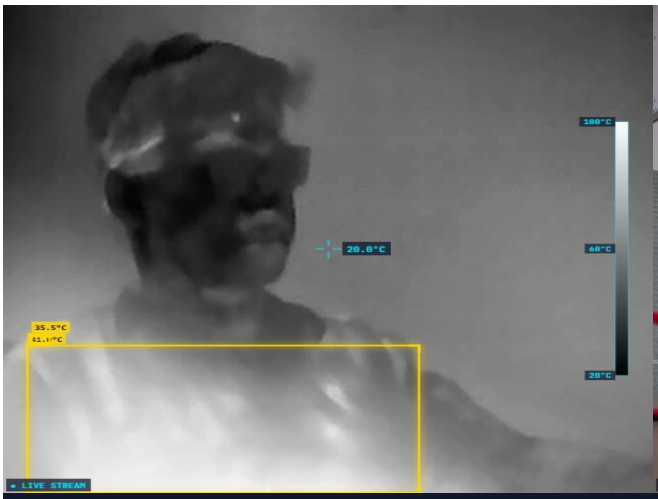

Thermal (IR) 384×288 8–14µm

Visible Light 2K 100° FOV

DETECTION DETAILS		GPS & FLIGHT DATA	
Class	ANIMAL	Latitude	N/A
Confidence	70%	Longitude	N/A
Bounding Box	x=120 y=80 w=50 h=90 px	Altitude (AGL)	0.0 m
Blob Area	4,500 px²	Heading	0.0°
Eccentricity	0.5	Satellites	0
Peak Intensity	0	HDOP	1
Mean Intensity	0	Roll / Pitch	0.0° / 0.0°
Palette	Ironbow	Yaw	0.0°

Detection #05 ANIMAL 24 Apr 2026 10:22:35 UTC

Thermal (IR) 384×288 8–14µm

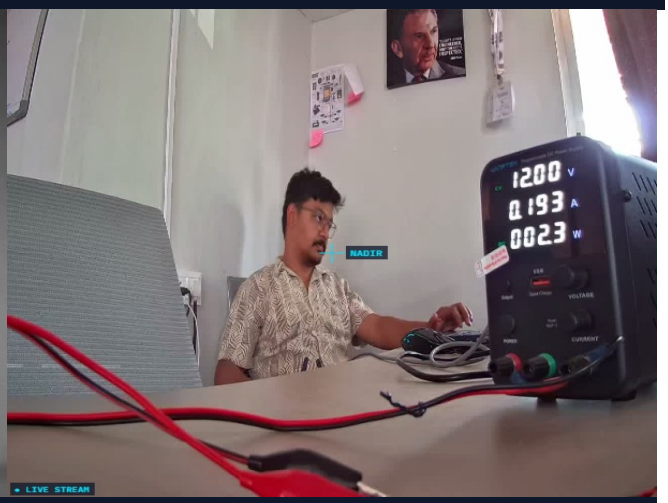

Visible Light 2K 100° FOV

DETECTION DETAILS		GPS & FLIGHT DATA	
Class	ANIMAL	Latitude	N/A
Confidence	**70%**	Longitude	N/A
Bounding Box	x=120 y=80 w=50 h=90 px	Altitude (AGL)	0.0 m
Blob Area	4,500 px²	Heading	0.0°
Eccentricity	0.5	Satellites	0
Peak Intensity	0	HDOP	1
Mean Intensity	0	Roll / Pitch	0.0° / 0.0°
Palette	Ironbow	Yaw	0.0°

Detection #06 ANIMAL 24 Apr 2026 10:22:35 UTC

Thermal (IR) 384×288 8–14µm



Visible Light 2K 100° FOV

DETECTION DETAILS		GPS & FLIGHT DATA	
Class	ANIMAL	Latitude	N/A
Confidence	**70%**	Longitude	N/A
Bounding Box	x=120 y=80 w=50 h=90 px	Altitude (AGL)	0.0 m
Blob Area	4,500 px²	Heading	0.0°
Eccentricity	0.5	Satellites	0
Peak Intensity	0	HDOP	1
Mean Intensity	0	Roll / Pitch	0.0° / 0.0°
Palette	Ironbow	Yaw	0.0°