SKYDROID C12 · DUAL LIGHT GIMBAL SYSTEM

THERMAL DETECTION MISSION REPORT

Automated Hotspot Detection · AI Classification · Auto-Capture

This document provides a comprehensive intelligence analysis of thermal signatures detected during the automated flight mission. Each event was successfully isolated, geo-tagged, and classified by the onboard AI to ensure rapid situational awareness.

1	0	1	0
TOTAL CAPTURES	HUMANS	ANIMALS	VEHICLES

MISSION ID	MSN-20260425-1330
START TIME	25 Apr 2026 13:30:48 UTC
END TIME	25 Apr 2026 13:30:48 UTC

THERMAL	VISIBLE	GIMBAL	STREAM
384×288 · 8–14µm LWIR	5MP 2K · 100° FOV	3-axis · ±90° yaw	RTSP dual channel

Mission Summary

Target Class	Count	Avg Confidence	Priority
Human	0	0%	HIGH
Animal	1	70%	MEDIUM
Vehicle	0	0%	MEDIUM

Area Coverage

Parameter	Value	Parameter	Value
Min Latitude	14.454663°	Max Latitude	14.454663°
Min Longitude	75.908959°	Max Longitude	75.908959°
Min Altitude	0.2 m	Max Altitude	0.2 m
Avg Altitude	0.2 m	Total Events	1

GPS Detection Map

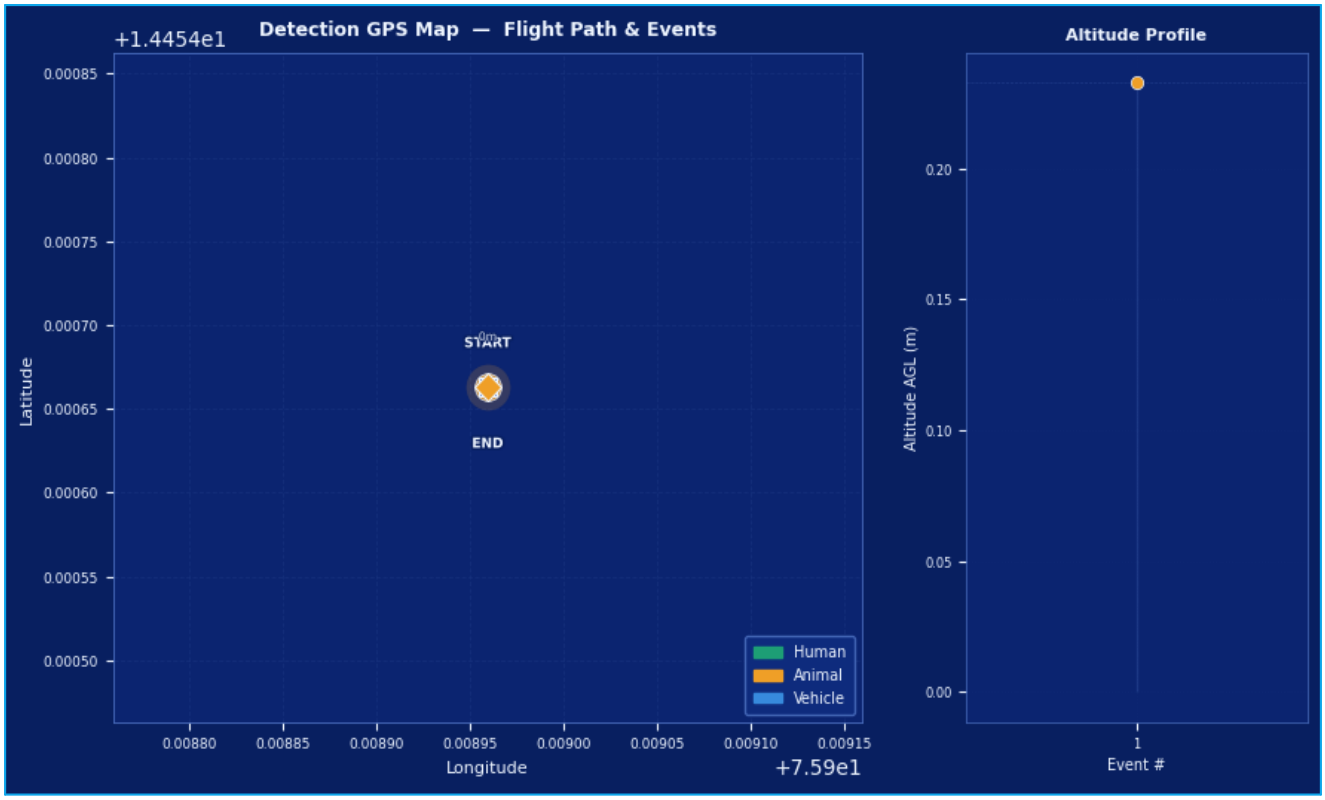

How to Interpret This Map: The map displays the drone's flight path as a dashed line. Each numbered point corresponds to an isolated thermal detection event. The expanded size of the dot reflects the AI's confidence in the detection. Green indicates Humans, Amber indicates Animals, and Blue indicates Vehicles. Use this map to quickly locate areas of high thermal activity and trace the patrol route.

Confidence Analysis

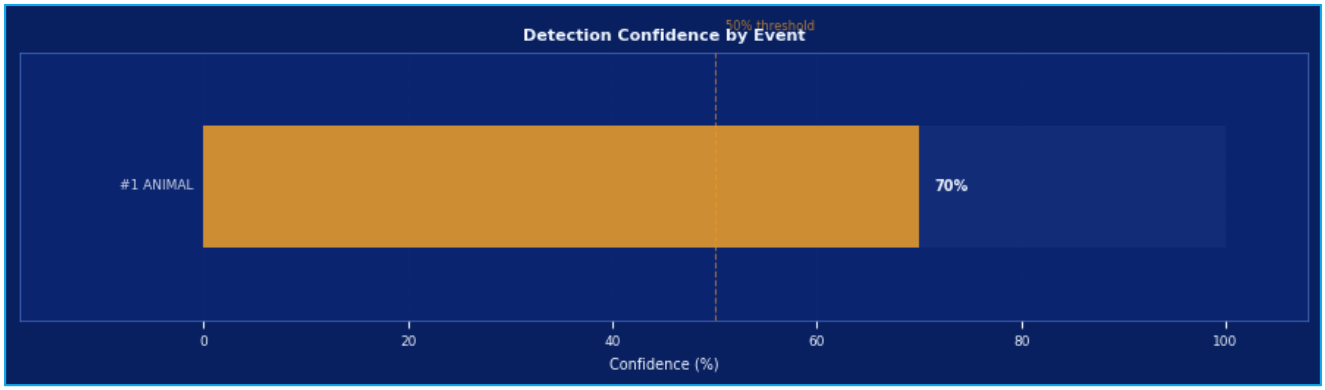

Dashed line marks 50% confidence threshold. Bars coloured by target class: green=human, amber=animal, blue=vehicle.

Capture Log

Detection #01 **ANIMAL** 25 Apr 2026 13:30:48 UTC

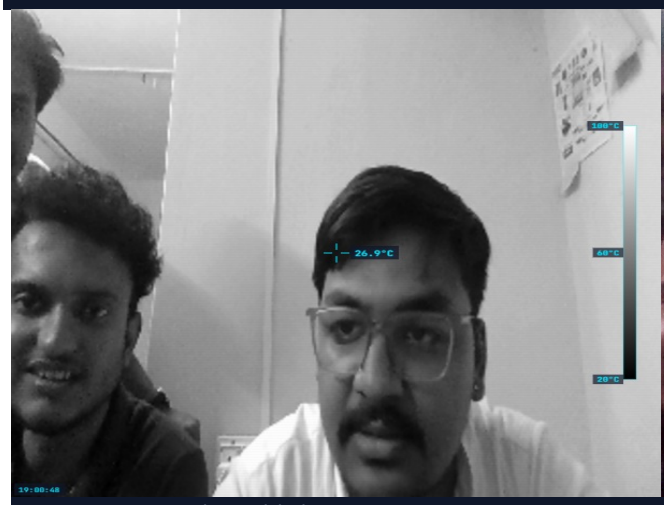

Thermal (IR) 384×288 8–14µm

Visible Light 2K 100° FOV

DETECTION DETAILS		GPS & FLIGHT DATA	
Class	ANIMAL	Latitude	14.454663°
Confidence	**70%**	Longitude	75.908959°
Bounding Box	x=120 y=80 w=50 h=90 px	Altitude (AGL)	0.2 m
Blob Area	4,500 px²	Heading	267.9°
Eccentricity	0.5	Satellites	12
Peak Intensity	0	HDOP	1
Mean Intensity	0	Roll / Pitch	0.2° / -0.5°
Palette	Ironbow	Yaw	-92.1°